Global Earthquake Overview

Exploring global seismic events across location, magnitude and time

Total Earthquakes

1,283

Average Magnitude

1.83

Strongest Earthquake

6.1

Magnitude category

All

Global Earthquake Map

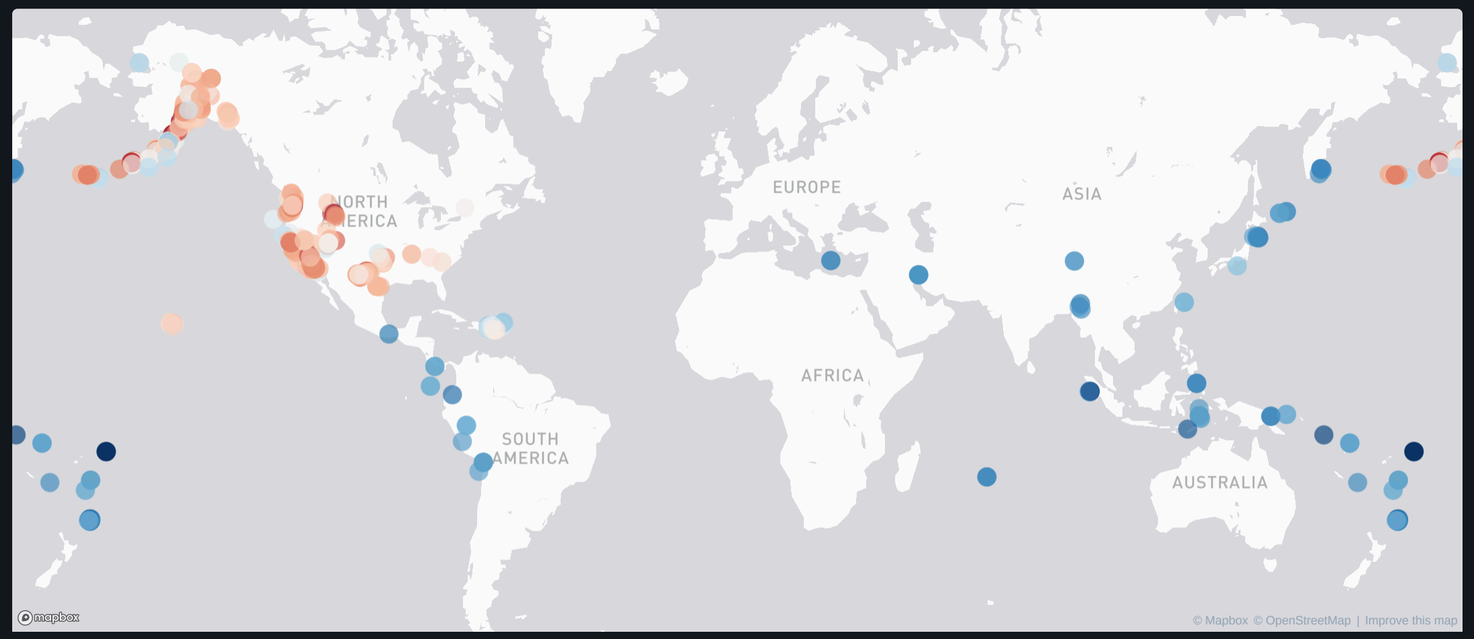

Magnitude

0 1 2 3 4 5 6

Magnitude Distribution

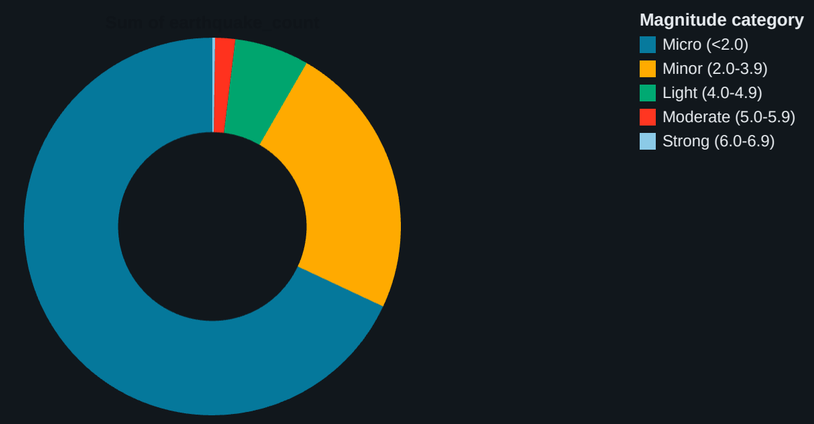

Top Countries by Earthquake Count

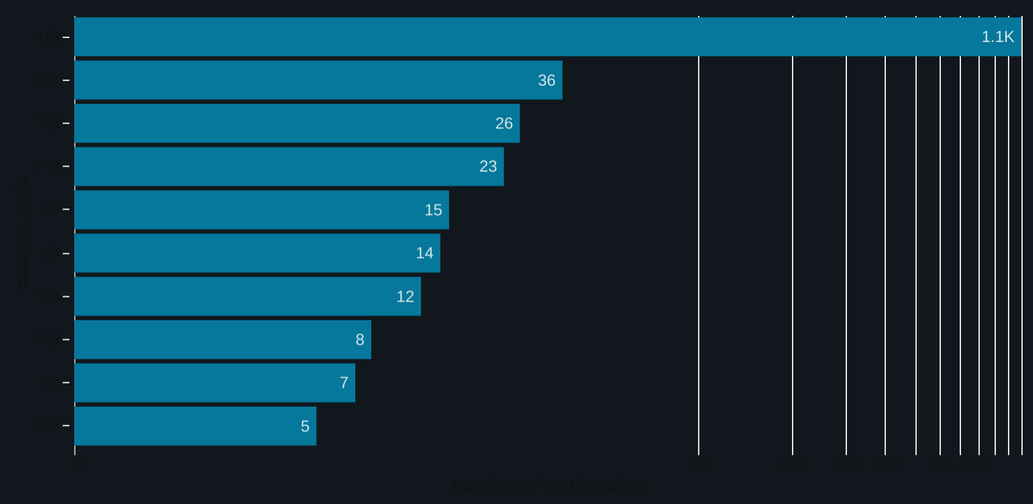

Top Earthquake Events

Country code	Date	Description	Significance	Magnitude
TO	2026-04-19 05:34 PM	93 km NNE of Hihifo, Tonga	High	6.10
TO	2026-04-19 05:34 PM	93 km NNE of Hihifo, Tonga	High	6.10
TO	2026-04-19 05:34 PM	93 km NNE of Hihifo, Tonga	High	6.10
SB	2026-04-18 03:03 PM	44 km WSW of Kirakira, Solomon Islands	High	5.80
NZ	2026-04-21 10:30 AM	Balleny Islands region	High	5.70
ID	2026-04-18 08:06 PM	45 km W of Gunungsitoli, Indonesia	High	5.70
ID	2026-04-18 08:06 PM	45 km W of Gunungsitoli, Indonesia	High	5.70
ID	2026-04-18 08:06 PM	45 km W of Gunungsitoli, Indonesia	High	5.70
JP	2026-04-21 06:44 PM	140 km E of Noda, Japan	Moderate	5.60

About This Dashboard

Created by: Daniel Szakacs as a Azure - Databricks SQL portfolio project.
Data source: USGS earthquake event data, transformed and modeled in the gold layer.
This dashboard highlights global seismic activity across location, magnitude, and significance.